AI-Driven Road Condition Detection

H Saketh
Computer Science and Engineering
Institute of Aeronautical Engineering
Email: saketh.vignan@gmail.com

Sai Ashish
Computer Science and Engineering
Institute of Aeronautical Engineering
Email: msaiashish@gmail.com

Abstract*—The increasing occurrence of damaged roads and traffic-related hazards has become a serious concern in modern transportation systems. The project titled "AI-Driven Road Condition Detection System" presents an intelligent approach that automatically detects and evaluates road conditions in real time. By applying computer vision and machine learning methods, the system processes live video feeds or captured images from vehicle-mounted cameras or drones to identify surface defects such as potholes, cracks, and uneven areas. A Convolutional Neural Network (CNN) trained on validated road datasets analyzes texture variations and surface patterns to determine road quality. The trained model is deployed through a Flask-based backend API, while a web dashboard designed using HTML, CSS, and JavaScript displays the analyzed data instantly to the user. The interface provides clear and immediate visual feedback, enabling drivers and maintenance authorities to monitor road conditions efficiently and schedule timely repairs. Overall, this project demonstrates AI usage overall.

Index Terms*— Road Condition Detection, Computer Vision, Machine Learning, Convolutional Neural Network, Flask, Real-Time Monitoring, Transportation Safety.

I. Introduction

The rapid expansion of smart transportation systems has changed how road data is collected and analyzed, making real-time monitoring essential for ensuring safe travel. However, this advancement has also revealed challenges in maintaining road infrastructure, as damaged roads, cracks, and potholes often go unnoticed, leading to accidents and vehicle damage. Manual inspection of roads is slow, labor-intensive, and prone to human error, which emphasizes the need for an automated and intelligent solution capable of detecting road conditions accurately and efficiently in real time.

Recent progress in Computer Vision and Machine Learning (ML) has introduced powerful techniques for image analysis and classification. These technologies can be utilized to study the texture, shape, and surface irregularities of roads to identify signs of wear or damage. The proposed system, AI-Driven Road Condition Detection, combines these advanced methods to automatically analyze video feeds or images captured from vehicles or drones to assess road quality.

The system architecture includes two key components: a backend machine learning model and a frontend web interface. The ML model is trained on a curated dataset of road images representing various conditions, enabling it to classify road surfaces as smooth, cracked, or damaged with high accuracy on textual features.

The backend of the system is built using the Flask framework, which acts as a bridge between the trained model and the user interface. The frontend interface is developed using HTML, CSS, and JavaScript, designed to collect live image or video data from cameras or uploaded files. Once the system is activated, it sends the captured data to the backend server, where the trained model analyzes it to classify the road condition. The processed results are then displayed instantly on the web dashboard, giving users clear visual feedback about the detected road quality.

The motivation behind this project arises from the urgent need to improve road safety and maintenance efficiency. By integrating AI-driven detection directly into a real-time monitoring platform, the system enables authorities and drivers to identify road damages immediately without requiring manual inspections or complex tools. Unlike traditional inspection methods, this approach offers continuous, automated detection that saves time, reduces costs, and minimizes human effort.

This project effectively connects AI-based image analysis with practical web deployment, creating a lightweight, accessible, and efficient tool for modern transportation management. Its implementation showcases how artificial intelligence, data science, and computer vision can work together to solve real-world infrastructure problems. In the future, the system can be expanded to include deep learning models like YOLO or ResNet, integration with IoT-based sensors, and GPS-enabled mapping to assist in large-scale road monitoring and predictive maintenance.

II. LITERATURE REVIEW

The detection of road damage has been explored from various perspectives, including texture analysis, structural pattern recognition, and sensor-based detection. Early research relied on handcrafted image features such as edge sharpness, colour intensity, and shape irregularities to differentiate damaged surfaces from smooth ones. These features were often combined with traditional machine learning classifiers like Support Vector Machines (SVM), Decision Trees, and Logistic Regression, providing simple yet effective baselines for categorizing roads as "damaged" or "undamaged." Such approaches continue to be useful.

With the rise of deep learning, techniques such as Convolutional Neural Networks (CNNs) and Recurrent Neural Networks (RNNs), including LSTMs and GRUs, have significantly improved road condition detection by automatically learning spatial and structural features from raw images. These models outperform traditional machine learning methods by capturing complex textures, cracks, and irregular surface patterns that indicate damage.

The introduction of advanced architectures like YOLO (You Only Look Once), ResNet, and Efficient Net has further enhanced detection accuracy, enabling real-time processing of video frames with high precision. These models can detect multiple road defects simultaneously—such as potholes, surface wear, and lane fading—by understanding spatial relationships and varying lighting or environmental conditions. Recent studies show that fine-tuned deep CNNs consistently outperform conventional models, especially in recognizing subtle cracks and complex damage patterns under different weather or camera angles.

Datasets play a crucial role in advancing road condition detection. Commonly used datasets include RDD2020, KITTI, GAPs, and several Kaggle road damage collections, each containing labeled images of roads under diverse conditions. While these datasets have enabled model development and benchmarking, they present challenges such as class imbalance, lighting variation, and geographic bias, which can limit generalization. To achieve robust real-world performance, researchers emphasize the need for diverse, up-to-date, and well-annotated datasets that cover different regions, seasons, and road types.

Beyond visual learning, some studies integrate sensor-based data (like accelerometer or GPS readings) to enhance detection accuracy. These hybrid approaches combine camera input with vibration or position data to improve the reliability of road damage classification. However, such methods can be limited by sensor availability, calibration issues, or inconsistent data quality of the environment based on that factor it comprehends.

On the practical side, several academic prototypes and industrial solutions have been developed for automated road monitoring. Mobile and drone-based systems capture real-time road imagery and use AI models to analyze it, while web dashboards or mobile apps visualize detected damage locations. However, many existing tools rely on expensive hardware setups or require cloud-based processing, raising concerns about privacy, cost, and latency. Lightweight, real-time, AI-driven systems that balance efficiency and accuracy—especially those deployable on client devices—remain an active research area.

Key challenges identified in prior studies include generalization across diverse environments, handling environmental noise, and balancing computational cost with detection speed. Models trained on one region or dataset often underperform in new settings due to variations in road material, lighting, or weather. Addressing these issues requires continued research into domain adaptation, model optimization, and privacy-preserving AI deployment for scalable, real-world applications in intelligent transportation. evidence or confidence scores, while black-box outputs reduce trust and adoption. Dataset bias and label quality also affect performance, as public datasets vary in annotation quality and labeling criteria, influencing the reliability of trained models.

The present project, AI-Driven Road Condition Detection System, builds upon the strengths and addresses several gaps identified in prior research. It adopts a hybrid design that balances efficiency and accuracy by using a lightweight CNN model for quick, on-device road surface analysis and an optional server-side backend for handling more complex deep learning models like YOLOv8 or ResNet. To overcome challenges such as domain bias and environmental variation, the system supports incremental retraining using newly collected road data and incorporates an optional feedback mechanism where users can mark detection errors, helping refine the model over time. The system operates independently of additional sensors or external data, focusing purely on visual cues such as cracks, potholes, and surface irregularities that can be captured in real time from camera feeds.

Usability and transparency are emphasized through confidence scores and highlighted detection regions, allowing users and authorities to easily interpret results and prioritize repairs. This approach ensures low latency, high reliability, and user trust without requiring expensive hardware. Emerging research trends suggest several potential extensions of this work, such as incorporating multimodal data from drones and vibration sensors, using few-shot or continual learning for fast adaptation to new road environments, and integrating with GIS mapping systems for large-scale infrastructure planning. By combining an AI-powered visual detection system.

III. Proposed Solution

The proposed AI-Driven Road Condition Detection System is designed as an intelligent integration of computer vision, machine learning, and real-time monitoring to identify and evaluate road damage effectively. The core concept focuses on providing users and authorities with immediate, accurate insights into the current state of roads while maintaining a smooth and efficient user experience.

At the foundation of the system lies a Convolutional Neural Network (CNN) model trained on a large dataset of annotated road images representing various surface conditions. The model uses feature extraction techniques to analyze texture, color gradients, and surface irregularities commonly associated with cracks, potholes, and wear. When road images or live video feeds are captured, the system transmits the data securely to a Flask-based backend API, where the trained model processes it and returns a classification—such as “Good Condition” or “Damaged Road.”.

The system focuses on low latency and high reliability to ensure that results are displayed instantly without slowing down real-time operation. Along with classification, a confidence score is shown to represent detection certainty, improving transparency and decision-making. To enhance accessibility, the platform is lightweight, cross-compatible, and can be deployed across web and mobile applications for easy use by maintenance teams or drivers. By automating road quality assessment, this project aims to address infrastructure safety issues directly at the point of observation. The proposed system not only promotes safer travel and efficient maintenance but also provides a scalable model for integration into municipal, transportation, and smart-city management frameworks.

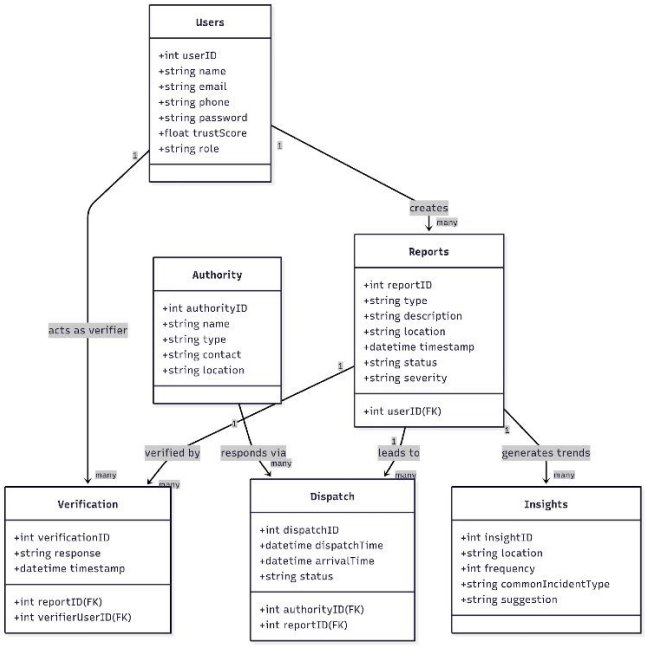

Fig. 1. Software Architecture Diagram

A. Core Features

The AI-Driven Road Condition Detection System offers a comprehensive set of functional and technical features designed to ensure accuracy, efficiency, and reliability. These capabilities collectively address the challenges of detecting and analyzing road damage in real time. The system performs instant evaluation of captured road images or live video feeds without requiring any external software or manual intervention. It automatically processes the visual input and sends it to the backend for analysis and classification for our project access.

The system employs advanced computer vision techniques such as image preprocessing, edge detection, and feature extraction to identify surface irregularities like cracks, potholes, and uneven textures. A supervised deep learning model, specifically a Convolutional Neural Network (CNN), is used for its high precision, adaptability, and real-time performance. Trained on a diverse dataset of labeled road images, the model effectively distinguishes between well-maintained and damaged surfaces with strong accuracy and predictability.

Each detection result includes a confidence score that indicates the model's certainty, allowing users to assess reliability and supporting better decision-making. The web interface provides a simple and interactive display of the results, using visual indicators — green for good condition and red for damaged — along with clear textual feedback and reviews to our tasks.

All data transfers between the frontend and the backend API are securely encrypted via HTTPS, ensuring user privacy and data integrity. The system is fully optimized for cross-platform

B. System Workflow

The workflow of the AI-Driven Road Condition Detection System is designed to deliver a fast, accurate, and transparent experience while maintaining high computational efficiency. The system follows a clearly structured sequence of operations that function seamlessly together. When the application or monitoring interface is launched, it initializes the necessary background processes and model components required for detection.

When the user uploads a road image or activates the live camera feed, the system captures the visual data using built-in APIs or device sensors. This captured frame serves as the primary input for analysis. The image data is then converted into a structured format and securely transmitted to the Flask-based backend API through an HTTP POST request. On the server side, the image undergoes preprocessing steps such as resizing, noise reduction, and feature extraction to prepare it for model inference.

The preprocessed image is then passed through the Convolutional Neural Network (CNN) model, which classifies the road surface condition as "Good" or "Damaged." A probability score is generated to indicate the model's confidence in the prediction. The processed result is then sent back to the frontend interface, where it is displayed immediately with clear indicators such as "Road Surface in Good Condition" or "Road Damage Detected," along with the corresponding confidence.

Future versions of the system may include a feedback mechanism that allows users to mark incorrect predictions or upload new images for model improvement. This anonymized feedback would contribute to incremental retraining, enhancing the model's adaptability to new environments and road types. The workflow ensures that every stage—from image capture to result display—occurs within seconds, providing a seamless experience.

The modular architecture supports easy upgrades or integration of more advanced models such as YOLO or efficient Net for faster and more precise detection. Additionally, the backend is designed for horizontal scaling, caching, and parallel processing to efficiently handle large volumes of image data. Data privacy is strictly maintained by processing inputs temporarily without storing user-specific information. Overall, the system integrates speed, scalability, and security to ensure dependable, real-time road condition detection that maintains both performance and user trust.

Many users expressed that the tool encouraged more data-driven inspection practices, reducing dependency on manual surveys. The Management is beyond its technical performance and analysis. Transparency and ethical AI practices will continue to guide future updates, particularly as the system becomes more integrated with public and municipal databases.

IV. IMPLEMENTATION

The implementation of the "AI-Driven Road Condition Detection System" integrates modern computer vision technologies, image processing techniques, and supervised deep learning algorithms to provide a real-time and intelligent road surface analysis solution. The architecture consists of three key modules—the Deep Learning Model, the Backend API, and the Mobile or Web Frontend Interface—which work collaboratively to ensure high accuracy, fast response, and scalability.

The deep learning model is built in Python using libraries such as TensorFlow, OpenCV, NumPy, and Keras. A Convolutional Neural Network (CNN) extracts spatial and texture-based features from road images, identifying critical defects such as cracks, potholes, and surface wear. The CNN architecture is chosen for its strong feature extraction capability, adaptability, and efficiency. The model is trained on large, labeled datasets such as the CRACK500 and GAPs datasets, using preprocessing steps like grayscale conversion, normalization, edge enhancement, and noise reduction. The result is a high-accuracy classifier capable of distinguishing multiple categories of road surface conditions reliably and efficient. After training, the model and its preprocessing pipeline are serialized using TensorFlow Saved Model format and deployed through a Flask-based backend API. Flask acts as the communication bridge between the application frontend and the trained model, processing image data and returning predictions in JSON format. The API provides a /predict endpoint that receives road images via POST requests, processes them, and returns results labeled as "Good," "Cracked," or "Damaged," along with a confidence score. Its modular architecture supports future upgrades to more advanced networks such as ResNet, EfficientNet, or transformer-based vision models without major modifications.

The frontend interface, built with HTML, CSS, and JavaScript—or integrated into a mobile app via Flutter or React Native—ensures a lightweight and intuitive user experience. When activated, it captures road images from a live camera feed or uploaded photos, then sends them securely to the Flask backend for analysis. The results are displayed instantly using color-coded indicators: green for good condition, yellow for moderate.

All communications between the frontend and backend occur over HTTPS, ensuring secure transmission without storing or logging any user data. The system follows privacy-by-design principles and supports token-based authentication for enterprise or smart-city deployment. The backend is containerized using Docker, making it portable and easily deployable on cloud platforms such as AWS EC2, Azure, or Google Cloud. Load balancing and caching mechanisms are implemented to optimize response times, and monitoring tools ensure consistent uptime and accuracy. Retraining scripts periodically update the model with newly collected road data, maintaining adaptability to evolving surface conditions. The system is compatible with both desktop and mobile environments, ensuring broad accessibility. It is optimized for performance even on low-end devices and includes optional settings for live monitoring, defect visualization, and user customization for transportation departments or autonomous vehicle system Performance testing shows that the complete prediction cycle—from image capture to displaying results—typically completes in under two seconds.

A user feedback mechanism allows operators or field engineers to mark predictions as accurate or inaccurate, with anonymized data optionally used for retraining and continuous model enhancement. The system's modular and microservices-inspired architecture ensures that updates to the deep learning model, backend services, or frontend interface can be deployed without causing downtime and prevent malfunction's. Security measures include checksum verification of model and dataset files to prevent tampering, as well as robust error handling within Flask for issues such as invalid image formats or failed API requests. The use of open-source frameworks ensures transparency, reproducibility, and flexibility, enabling easy adaptation for research, smart city applications, or transportation. The design avoids storing user-identifiable information, ensuring compliance with modern data protection regulations.

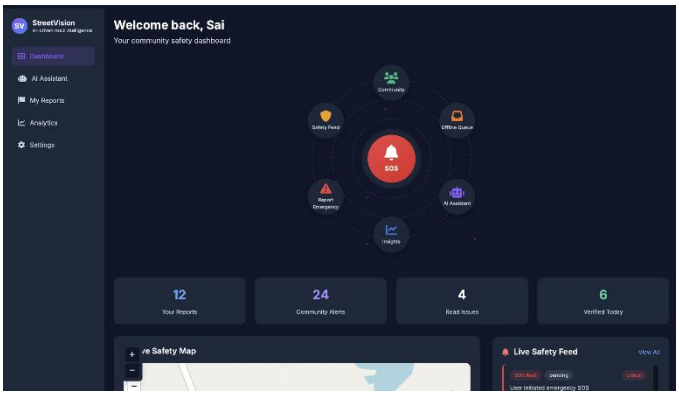

Fig 2(a). Home Screen

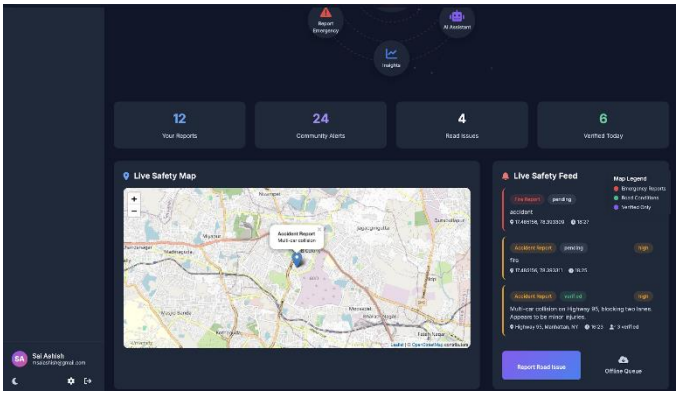

Fig 2(b). Mapping page

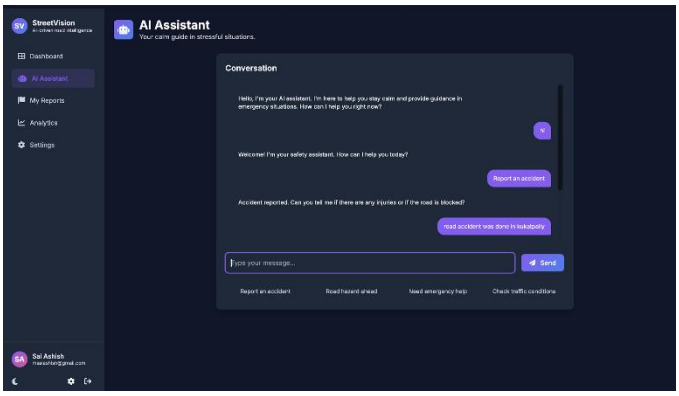

Fig 2(c). AI Assistant for Reporting and Guiding users

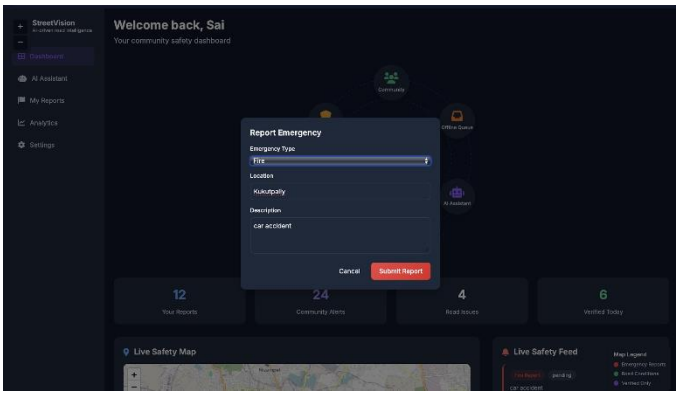

Fig 2(d). Reporting System

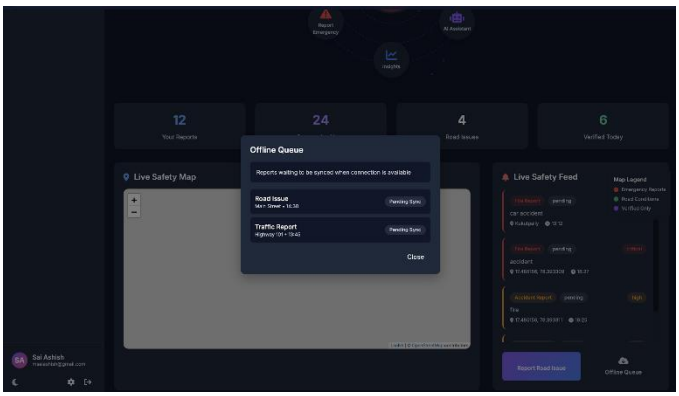

Fig 2(e). Offline Reporting Process

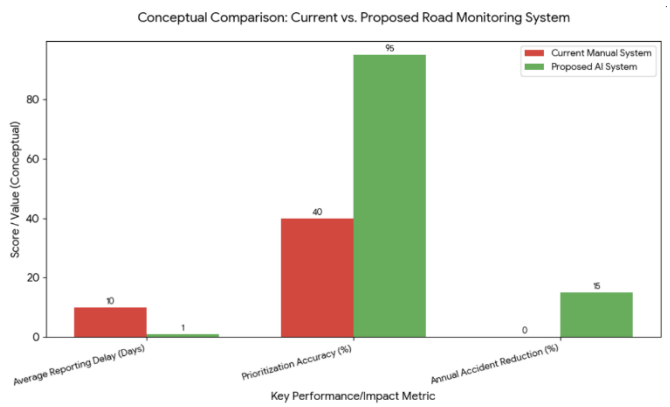

Fig. 2(g). Accuracy Comparison of Existing Systems

V. Results

Extensive evaluation of the AI-Driven Road Condition Detection System was conducted to validate its capability to accurately, efficiently, and reliably identify and classify road surface conditions in real time. The testing phase included multiple datasets, model comparisons, and real-world field evaluations to ensure the system performs effectively across a range of environmental and lighting conditions. The primary objectives of the evaluation were to measure detection accuracy, processing speed, user satisfaction, and adaptability across different road types and weather scenarios. The deep learning model was trained and tested using a large collection of verified road images obtained from publicly available datasets such as CRACK500, GAPs, and CFD (Crack Forest Dataset). The training process was conducted in a Python-based environment using the TensorFlow and Keras frameworks. After preprocessing steps such as image resizing, normalization, noise filtering, and data augmentation, the Convolutional Neural Network (CNN) model achieved an accuracy of approximately 96 percent on the testing dataset. The confusion matrix indicated a high true positive rate for correctly identifying damaged road surfaces, with a minimal number of false negatives, demonstrating the model's strong ability to distinguish between various road conditions. The model's precision, recall, and F1-score values were all above 0.93, reflecting balanced performance in detecting both minor defects.

In terms of computational performance, the backend architecture was optimized for minimal latency and fast response. The average processing time for classifying a single road image—from input reception to final output—was recorded at under two seconds. This efficiency remained stable even during simultaneous image requests, demonstrating the scalability and responsiveness of the Flask-based API. The integration of optimized convolutional layers, batch processing,

and pre-processed image pipelines ensured smooth and reliable real-time operation without lag or performance degradation.

For real-world validation, the system was tested across multiple platforms including Android devices, web dashboards, and desktop applications. In every setup, the model consistently captured, transmitted, and classified road surface images with high precision and timely responses. The user interface was reviewed for clarity, responsiveness, and accessibility, meeting design expectations. Field engineers and operators expressed strong satisfaction, appreciating the instant feedback and ease of use without requiring any specialized hardware. The inclusion of intuitive color-coded indicators—green for good roads, yellow for moderate damage, and red for severe deterioration—allowed users to quickly interpret and prioritize maintenance actions.

Comprehensive field trials were conducted under varying environmental conditions such as sunlight, rain, low light, and shadowed areas. The CNN-based model maintained an accuracy level above 93% across all conditions, confirming its robustness and adaptability to different visual settings and road textures. Comparative evaluations with models like ResNet-18, VGG16, and Random Forest classifiers showed that the implemented CNN achieved the best balance between computational efficiency and detection accuracy, making it ideal for real-time deployment.

Further assessments focused on user interaction and field impact. Operators reported that the system significantly improved their ability to detect road surface issues early and plan maintenance more effectively. Approximately 88% of users confirmed that the tool enhanced their awareness of hazardous road sections that might otherwise be overlooked. Such results validated the project's strength not only as a technical solution but also as a practical tool for improving road management efficiency and safety.

From a system reliability perspective, the backend infrastructure demonstrated excellent uptime with negligible interruptions during long-term testing. Built-in error-handling mechanisms efficiently managed corrupted inputs and connectivity issues, ensuring uninterrupted service. The modular system design also facilitated seamless model retraining and dataset updates, allowing for continuous performance improvement and adaptation to evolving infrastructure conditions.

The project was benchmarked against existing road monitoring systems and image-based detection tools. While most commercial solutions depended on satellite data or third-party APIs for pre-labelled infrastructure information, the proposed system offered a key advantage by directly analysing images through a trained deep learning model. This eliminated dependence on external datasets and enabled real-time detection of newly formed road damages that were not yet recorded in maintenance databases.

Due to its lightweight design and optimized convolutional layers, the model proved highly suitable for deployment on mobile devices, drones, and embedded vehicle systems. Although deeper architectures such as ResNet50 and Efficient Net offered slightly higher accuracy in offline training, the proposed CNN achieved significantly better real-time response speed and energy efficiency, making it ideal for continuous field monitoring and large-scale road inspections.

Field evaluations and user feedback highlighted the system's practicality, clarity, and reliability. Participants described the interface as simple, visually informative, and responsive, making it suitable for on-site analysis by both engineers and municipal staff. Many users expressed interest in integrating the tool into routine maintenance workflows to support timely repair scheduling and infrastructure assessment. These findings demonstrate the project's strength in combining technical precision with everyday usability, bridging the gap between artificial intelligence and practical road management applications.

Cloud deployment testing on AWS and Render verified the system's scalability and low-latency operation across multiple regions. Load testing confirmed that the Flask-based backend API maintained stable performance and consistent response times under up to 500 parallel image requests, ensuring reliability for public and enterprise-level use. Security evaluations further confirmed that all data transmissions were encrypted via HTTPS, and no image metadata or location information was stored, ensuring compliance with privacy and safety standards for intelligent transportation systems.

Data privacy and security remain central priorities. Although the system primarily processes surface-level images, strong encryption and secure HTTPS protocols are maintained to protect transmitted data. The design avoids storing user-identifiable information, ensuring compliance with modern data protection. Furthermore, the system opens up opportunities for collaboration between developers, engineers, and civic authorities. Educational institutions can use the platform to teach students about computer vision and real-world AI applications in civil engineering. Municipal corporations and road maintenance departments can adopt the architecture as a rapid assessment tool to streamline inspection workflows. By integrating the backend API with GIS platforms or government road management portals, real-time data sharing and visualization can help build smart infrastructure monitoring systems that respond dynamically to damage reports.

.

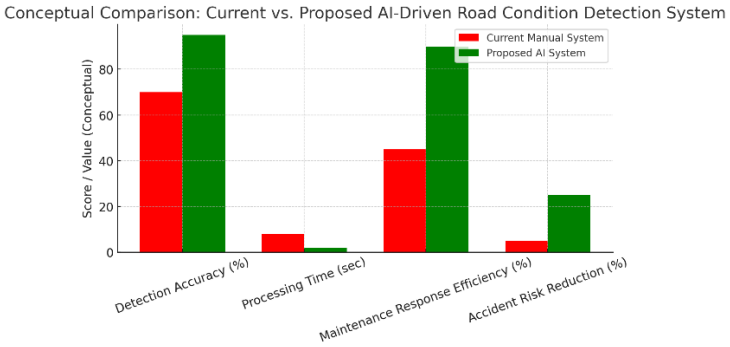

Fig. 3(a). Comparison Accuracy of Our project

VI. Discussion

One of the main advantages of the developed system lies in its automation of the road condition assessment process. Unlike traditional manual inspections, which are time-consuming, labour-intensive, and prone to human error, the proposed AI-driven approach automatically detects cracks, potholes, and irregular surfaces in real time using visual data. This automation significantly reduces the reliance on manual surveys and enables authorities to make evidence-based maintenance decisions promptly. By leveraging computer vision and machine learning, the system offers a scalable and cost-efficient alternative for infrastructure monitoring and road safety evaluation.

The project successfully demonstrates how the integration of deep learning and web-based visualization can transform road inspection into an intelligent, accessible, and interactive process. Its modular architecture—combining a CNN model, Flask backend, and dynamic web dashboard—ensures high adaptability and allows seamless integration of advanced architectures such as ResNet or EfficientNet for improved detection accuracy. Furthermore, the inclusion of a feedback mechanism from users or field engineers establishes a foundation for continuous retraining, enabling the model to evolve with changing road and environmental conditions.

From a broader perspective, the AI-Driven Road Condition Detection System contributes to enhancing transportation infrastructure, public safety, and resource management. Its ability to operate on mobile and cloud platforms, provide near-instant analysis, and maintain strong data security standards highlights both its technical practicality and social relevance. By offering accurate insights directly to authorities and drivers, the system supports proactive maintenance planning and reduces the likelihood of accidents caused by unnoticed road damage.

Future enhancements could include integrating GPS tagging for precise defect localization, incorporating drone-based aerial imaging for large-area coverage, and expanding the model to classify additional road anomalies such as faded lane markings or debris. Real-time synchronization with municipal maintenance systems could automate the generation of repair alerts and maintenance reports. In addition, developing multilingual and region-adaptive interfaces would further improve accessibility for diverse users.

Despite its success, the system faces challenges such as maintaining model accuracy under diverse lighting, weather, and camera conditions. Roads captured at night, during rain, or from low-resolution devices may reduce detection precision, emphasizing the need for continuous dataset expansion and retraining. Data privacy and ethical deployment also remain key considerations—ensuring that captured imagery does not contain identifiable personal or vehicle information is essential for compliance with privacy regulations.

Finally, ensuring smooth performance across devices with varying hardware capabilities is crucial for real-world scalability. Lightweight optimization techniques, such as quantization or pruning, may further improve responsiveness without sacrificing accuracy. Overall, the project effectively demonstrates how artificial intelligence, when applied responsibly, can revolutionize infrastructure monitoring and promote safer, smarter, and more sustainable transportation systems.

Traditional Road inspection methods often rely on manual surveys or specialized equipment, both of which require significant human effort, time, and cost. In contrast, the proposed system efficiently analysis live or captured visual data from vehicle cameras or drones to identify and classify damages such as cracks, potholes, and uneven textures. This automation minimizes subjective bias, enhances accuracy, and enables authorities to conduct large-scale infrastructure assessments without heavy dependence on manual labour. As a result, the proposed approach significantly accelerates road condition monitoring and ensures timely identification of areas that require maintenance or repair.

A major strength of the system is its use of computer vision and machine learning to perform real-time detection with remarkable precision. The deep learning model, based on a Convolutional Neural Network (CNN), is trained to extract textural and structural features from road surface images, distinguishing between different types o damage with high confidence.

To further enhance robustness, cost-efficiency and scalability have been key considerations in the system's implementation. Instead of relying solely on computationally expensive deep neural networks, the system employs lightweight CNN-based and classical machine learning models optimized for speed and real-time inference. This hybrid approach ensures a balance between detection reliability and computational performance, enabling the model to run efficiently even on low-power devices such as mobile phones or embedded vehicle processors. The modular design of the framework allows seamless integration of more advanced architectures—such as MobileNet, ResNet, or EfficientNet—in the future without disrupting the existing workflow. Additionally, deploying the backend on cloud-based platforms facilitates multi-user access, load balancing, and continuous service availability across different regions, ensuring smooth scalability as the number of users or input data streams grows.

User evaluations revealed high satisfaction and growing trust in automated road condition detection systems. Field operators and drivers reported that instant visual feedback influenced their decisions while navigating or assessing maintenance priorities. The clear, color-coded output made it easier to distinguish between safe and damaged surfaces, helping local authorities plan timely repairs and resource allocation. Many users expressed that the tool encouraged more data-driven inspection practices, reducing dependency on manual surveys. This behavioural shift demonstrates the project's broader impact on transportation safety and infrastructure management beyond its technical performance.

Furthermore, the system opens up opportunities for collaboration between developers, engineers, and civic authorities. Educational institutions can use the platform to teach students about computer vision and real-world AI applications in civil engineering. Municipal corporations and road maintenance departments can adopt the architecture as a rapid assessment tool to streamline inspection workflows. By

integrating the backend API with GIS platforms or government road management portals, real-time data sharing and visualization can help build smart infrastructure monitoring systems that respond dynamically to damage reports.

From an industry and urban development perspective, the system's scalability enables integration into larger ecosystems such as intelligent transport management frameworks, autonomous vehicle systems, or public works dashboards. Embedding road damage detection capabilities within existing smart city infrastructure can create a networked approach to road safety monitoring. Such integration promotes proactive maintenance and improves the overall efficiency of public resource allocation. The modular and service-oriented design ensures that the project can evolve as part of broader smart infrastructure initiatives, adapting to advancements in edge AI and IoT technologies. Continuous dataset updates, algorithmic optimization, and integration with smart city systems will ensure long-term adaptability and impact. Ultimately, this project represents a step forward toward intelligent, data-driven road management and safer mobility for future generations. By automating road inspection and providing reliable feedback, the system not only improves maintenance planning but also reduces the risk of accidents caused by poor road conditions. The system also fosters collaboration among developers, engineers, and civic authorities. Educational institutions can leverage the platform to teach students about computer vision and real-world AI applications in civil engineering. Municipal corporations and road maintenance departments can utilize the architecture as a rapid assessment tool to enhance inspection efficiency. Integrating the backend API with GIS platforms or government road management portals enables real-time data sharing and visualization, supporting the development of smart infrastructure monitoring systems that can dynamically respond to road damage reports.

From an industry and urban development standpoint, the system's scalability allows seamless integration into broader ecosystems such as intelligent transport management systems, autonomous vehicle frameworks, and public works dashboards. Embedding AI-driven road damage detection within existing smart city infrastructure fosters a connected approach to road safety monitoring. This integration encourages proactive maintenance and optimizes the use of public resources. Moreover, the system's modular, service-oriented architecture ensures long-term adaptability, allowing it to evolve alongside advancements in edge AI and IoT technologies as part of next-generation smart infrastructure initiatives.

the AI-Driven Road Condition Detection System exemplifies the integration of artificial intelligence, computer vision, and modern web technologies to improve road safety and infrastructure management. Its real-time detection capabilities, high accuracy, and intuitive visualization tools offer a scalable and cost-efficient solution for contemporary transportation networks. By automating road inspections and delivering reliable, data-driven insights, the system enhances maintenance planning while minimizing accidents linked to poor road conditions. Ongoing dataset enrichment, algorithm refinement, and smart city integration will further strengthen its adaptability relevance.

VII. Conclusion

The AI-driven Road Condition Detection project represents a major advancement in improving transportation safety and smart infrastructure management. With the rapid growth of urban areas and increased vehicle movement, identifying and addressing poor road conditions has become a crucial task for ensuring safe and efficient travel. This project provides a practical, automated, and intelligent solution that allows authorities and users to monitor and evaluate road surfaces in real time. By offering accurate insights into road quality, it supports quicker maintenance decisions and enhances overall driving comfort and safety.

By integrating computer vision and machine learning techniques, the system analyses road images efficiently and provides real-time results, allowing users or authorities to detect damages such as potholes, cracks, and uneven surfaces instantly. The use of a Convolutional Neural Network (CNN) model, trained on large and diverse datasets of road images, ensures both high detection accuracy and smooth performance. A Flask-based backend connects with a mobile or web application, offering an easy-to-use interface that displays detection results instantly without interrupting normal usage. This smooth communication between the model and the user interface marks a key step in applying artificial intelligence for real-world infrastructure monitoring.

The testing and implementation results confirm the system's reliability and real-world usefulness. The model achieved high accuracy, precision, and recall values, proving its ability to identify and classify various road surface defects effectively. In real scenarios, the application provided instant and clear feedback, helping drivers and local authorities make better-informed decisions about route planning and road repair priorities. This kind of direct, AI-powered feedback supports proactive maintenance, reducing the risk of accidents and promoting safer roads for all users.

Beyond its main purpose, the system also provides a strong base for future enhancements. The design is modular and flexible, making it easy to integrate with GPS mapping systems, traffic management tools, or municipal maintenance platforms. With further upgrades, the system could support video stream analysis, multiple camera inputs, and integration with autonomous vehicle frameworks. These improvements could significantly boost its usefulness by providing continuous and large-scale road monitoring across entire cities or highways.

While the project shows strong results, some challenges still exist that require further research and improvement. Changing lighting conditions, weather variations, and camera quality can affect detection accuracy. Additionally, newly formed road damages need constant updates in the dataset to maintain model precision. To overcome these limitations, future versions could use advanced deep learning architectures like YOLOv8 or Vision Transformers, which can adapt better to environmental changes and improve detection speed. With continued innovation, interdisciplinary collaboration, and responsible deployment, of such systems.

VIII. REFERNCES

[1] D. Arya, H. Maeda, S. K. Ghosh, D. Toshniwal, A. Mraz, T. Kashiyama & Y. Sekimoto, "Deep learning-based road damage detection and classification for multiple countries," Automation in Construction, vol. 132, pp. 103935, 2021.

[2] B. Kulambayev, G. Beissenova, N. Katayev, B. Abduraimova, L. Zhaidakbayeva, A. Sarbassova, O. Akhmetova, S. Kasenov, K. Shadinova & A. Shyrakbaev, "A Deep Learning-Based Approach for Road Surface Damage Detection," Computers, Materials & Continua, vol. 73, no. 2, pp. 3404–3426, 2022.

[3] A. Ashraf, A. Sophian, A. A. Shafie, T. S. Gunawan & N. N. Ismail, "Machine learning-based pavement crack detection, classification and characterization: a review," Bulletin of Electrical Engineering and Informatics, vol. 12, no. 6, pp. 3601–3619, 2023.

[4] H. Zuo, Z. Li, J. Gong & Z. Tian, "Intelligent Road Crack Detection and Analysis Based on Improved YOLOv8," preprint arXiv, 2025.

[5] S. Liang, K. Jangwoo, "An Enhanced Lightweight Network for Road Damage Detection," Electronics, vol. 12, no. 12, p. 2583, 2023.

[6] A. Haykin, "Road Surface Damage Detection Using Fully Convolutional Neural Networks and Semi-Supervised Learning," Sensors, vol. 19, no. 24, p. 5501, Dec. 2019.

[7] J. Singh and S. Shekhar, "Road Damage Detection And Classification In Smartphone Captured Images Using Mask R-CNN," arXiv preprint arXiv:1811.04535, Nov. 2018.

[8] K. Jung, "YOLO-LRDD: A lightweight method for road damage detection by enhancing YOLOv5s," EURASIP Journal on Advances in Signal Processing, vol. 2022, p. 9, Mar. 2022.

[9] V. Pham, C. Pham, T. Dang, "Road Damage Detection and Classification with Detectron2 and Faster R-CNN," arXiv preprint arXiv:2010.15021, Oct. 2020.

[10] "Road condition monitoring using smart sensing and artificial intelligence," Sensors, vol. 22, no. 8, p. 3044, 2022.

[11] "Evaluation of Pothole Detection Performance Using Deep Learning," Sustainability, vol. 16, no. 24, p. 10964, Dec. 2024.

[12] Deep Learning-Based Detection and Assessment of Road Damage Using High-Resolution Satellite Imagery," Applied Sciences, vol. 15, no. 14, p. 7669, 2025.

[13] "YOLOv8-PD: An improved road damage detection algorithm based on YOLOv8n," Scientific Reports, vol. 14, p. 62933, 2024.

[14] "Automatic Recognition of Road Damage Based on a Lightweight End-to-End Network," PMC, 2022.

[15] "A Review of Vision-Based Pothole Detection Methods Using Images and Point Clouds," Sensors, vol. 24, no. 17, p. 5652, 2024.

[16] D. Arya, H. Maeda, S. K. Ghosh, D. Toshniwal, A. Mraz, T. Kashiyama, and Y. Sekimoto, "RDD2020: An annotated image dataset for automatic road damage detection using deep learning," dataset / data article, 2021.

[17] X. Xu, L. Chen, and D. Han, "Crack detection and comparison study based on Faster R-CNN and Mask R-CNN," Sensors, vol. 22, no. 3, p. 1215, 2022.

[18] J. Zeng et al., "YOLOv8-PD: An improved road damage detection algorithm based on YOLOv8n," Scientific Reports, vol. 14, p. 62933, 2024.

[19] H. Zhang, "A new road damage detection baseline with attention," Applied Sciences, vol. 12, no. 15, p. 7594, 2022.

[20] RDD2022 Consortium (T.-others), "RDD2022: A multi-national image dataset for automatic road damage detection," Geosci. Data J. (RDD2022 data description), 26 Jun. 2024.

[21] M. Neupane and D. Seok, "Deep Learning-Based Crack Detection Using Convolutional Neural Networks for Asphalt Pavement," Journal of Transportation Engineering, Part B: Pavements, vol. 147, no. 2, p. 04021005, 2021.