Cloudburst Detection Using Artificial Intelligence and Machine Learning

K. Sai Harini
Department of Computer Science and Engineering
Institute of Aeronautical Engineering
Dundigal, Hyderabad, Telangana
saiharini1001@gmail.com

B. Shravani
Department of Computer Science and Engineering
Institute of Aeronautical Engineering
Dundigal, Hyderabad, Telangana
baikanishravani21@gmail.com

Dr. BJD Kalyani
Department of Computer Science and Engineering
Institute of Aeronautical Engineering
Dundigal, Hyderabad, Telangana
bjd.kalyani@iare.ac.in

ABSTRACT

Cloudbursts are sudden and intense rainfall events that occur in a very short time and over a small area, often causing flash floods, landslides, and severe damage in hilly and mountainous regions. Their unpredictable nature and rapid onset make early detection extremely challenging for traditional weather forecasting systems. Conventional meteorological methods and radar observations often fail to capture the sudden atmospheric changes that lead to these events. To address this issue, this project aims to develop an intelligent system that uses Artificial Intelligence (AI) and Machine Learning (ML) to predict cloudbursts. The system relies on real-time data from satellites, ground sensors, and weather stations to monitor environmental parameters such as temperature, humidity, air pressure, and wind speed. It continuously analyzes this data to identify early warning signs of extreme rainfall. Data preprocessing techniques like normalization, noise reduction, and feature extraction are applied to improve prediction accuracy. The system is designed to minimize false alarms while ensuring timely alerts. By using AI-driven analytics, it provides a smarter approach compared to conventional methods.

The proposed framework incorporates cloud-based computing and storage to handle large datasets efficiently, allowing real-time monitoring and quick response. Once the system detects a potential cloudburst, it automatically generates alerts via mobile and web applications to notify authorities and residents in vulnerable areas. It also integrates Geographic Information System (GIS) mapping to visualize rainfall intensity and potential flood zones, supporting faster decision-making during emergencies. This approach enhances disaster preparedness and helps mitigate the impact of sudden extreme weather events. By providing early warnings, the system can save lives, reduce property damage, and support safer communities. The project aligns with global efforts to combat climate-related disasters and promotes the use of technology for sustainable development. Overall, it demonstrates how AI and real-time environmental monitoring can transform conventional forecasting into a proactive early warning system.

1. INTRODUCTION

Cloudbursts are sudden and extreme rainfall events characterized by very high precipitation in a short time, often exceeding 100 mm in less than an hour. These events are particularly frequent in hilly and mountainous regions, where the steep terrain intensifies runoff and drainage, increasing the likelihood of flash floods and landslides. The sudden nature and high intensity of cloudbursts make them highly destructive, causing loss of life, damage to infrastructure, and disruption of local communities. Beyond immediate physical damage, cloudbursts can trigger secondary hazards such as soil erosion, riverbank collapse, and long-term environmental degradation. Their highly localized and short-lived occurrence presents a major challenge for conventional weather monitoring systems, which rely on satellite images, weather stations, and Doppler radar. Due to their limited spatial and temporal resolution, these traditional methods often fail to capture rapid atmospheric changes that precede a cloudburst, resulting in delayed or missed warnings.

To address these challenges, this study proposes an AI-driven cloudburst detection system that leverages real-time meteorological data from multiple sources, including ground sensors, weather stations, and radar imagery. The system continuously monitors key environmental parameters such as temperature, humidity, air pressure, wind speed, and rainfall intensity to identify early warning signs of extreme precipitation. Machine learning algorithms analyze patterns in this data to improve prediction accuracy and reduce false alarms. The system also integrates Geographic Information System (GIS) mapping to visualize high-risk zones, assess flood-prone areas, and support disaster management efforts. Automated alerts delivered through web and mobile platforms ensure timely communication with authorities and residents in vulnerable regions, enhancing preparedness and response.

By combining AI-based predictive analytics with real-time environmental monitoring, the proposed framework aims to mitigate the impacts of cloudbursts, reduce casualties, and protect property and infrastructure. The study also contributes to climate resilience and sustainable urban development, aligning with Sustainable Development Goals (SDG 11: Sustainable Cities and Communities, and SDG 13: Climate Action). Ultimately, this research demonstrates how modern technological solutions can transform conventional weather forecasting into an adaptive early warning system, capable of saving lives, minimizing damage, and supporting proactive disaster management strategies.

Moreover, the proposed system emphasizes scalability and adaptability, allowing it to be deployed in different geographic regions with varying terrain and climatic conditions. By continuously learning from historical and real-time data, the AI algorithms can improve prediction accuracy over time, making the system more robust against unexpected weather anomalies. In addition, real-time alerts can be customized for different stakeholders, including local government agencies, emergency response teams, and residents, facilitating faster and more coordinated disaster management. This proactive approach not only enhances public safety but also promotes community resilience and informed decision-making during extreme weather events.

2. LITERATURE REVIEW

Recent studies on cloudburst events have focused on understanding their atmospheric triggers, improving prediction methods, and assessing vulnerable regions. Lohan et al. (2025) identified key diagnostic parameters for detecting and validating cloudburst events using real meteorological data, providing a foundation for accurate monitoring. Mukhopadhyay et al. (2025) analyzed macro- and microphysical atmospheric conditions, along with radar indicators, that precede cloudbursts during the Indian monsoon, highlighting critical early warning signals. Raghuvanshi et al. (2025) studied spatio-temporal patterns of cloudburst occurrences in the Himalayas, offering insights into their frequency and regional distribution. Adiyasa et al. (2025) applied GIS-based risk mapping, integrating terrain and hydrology data, to identify regions most vulnerable to extreme rainfall and flash floods. Shah (2024) validated satellite-derived rainfall alerts, demonstrating the effectiveness and limitations of remote sensing for early detection. Mishra et al. (2022) assessed socio-economic impacts by mapping cloudburst-prone zones and the populations most at risk, emphasizing the need for targeted disaster management. Earlier modeling studies, such as Dimri et al. (2013), simulated historical Himalayan cloudburst events to understand their dynamics and provide predictive insights. More recently, machine learning approaches have been applied for real-time prediction, as shown by IJRASET (2024), enabling faster classification and early warning through automated systems. Collectively, these studies highlight the importance of combining atmospheric analysis, remote sensing, GIS mapping, and AI-driven methods to improve cloudburst prediction and mitigation strategies, offering a multi-faceted approach to reducing risks and enhancing preparedness in vulnerable regions.

2.1 ATMOSPHERIC & RADAR ANALYSIS

Recent studies have focused on understanding atmospheric triggers of cloudburst events. Lohan et al. (2025) identified key diagnostic parameters for detecting and validating cloudbursts using real meteorological data. Mukhopadhyay et al. (2025) analyzed macro- and microphysical atmospheric conditions, along with radar indicators, highlighting critical early warning signals during the Indian monsoon.

2.2 SPATIO AND TEMPORAL PATTERNS AND GIS MAPPING

Raghuvanshi et al. (2025) studied spatio-temporal patterns of cloudburst occurrences in the Himalayas, offering insights into frequency and regional distribution. Adiyasa et al. (2025) applied GIS-based risk mapping by integrating terrain and hydrology data, identifying regions most vulnerable to extreme rainfall and flash floods. They also emphasized the importance of prioritizing high-risk areas for disaster management and early warning systems.

2.3 SATELLITE VALIDATION & HISTORICAL SIMULATION

Shah (2024) validated satellite-derived rainfall alerts, showing the effectiveness and limitations of remote sensing. Earlier studies, such as Dimri et al. (2013), simulated historical Himalayan cloudburst events to understand their dynamics and improve predictive insights.



Fig 1: pre disaster and post disaster images of the valley.

2.4 AI and Real-Time Prediction

Machine learning approaches have been applied for real-time prediction, as shown by IJRASET (2024), enabling faster classification and automated early warning. These models analyze large volumes of meteorological data, including temperature, humidity, and rainfall intensity, to detect patterns leading to cloudbursts. By continuously learning from real-time inputs, AI systems can enhance prediction accuracy, reduce false alarms, and provide timely alerts to authorities for quick response and disaster mitigation. AI and real-time prediction models utilize advanced algorithms such as Convolutional Neural Networks (CNN), Recurrent Neural Networks (RNN), and ensemble learning to identify early atmospheric anomalies that traditional forecasting methods often miss. These systems integrate data from multiple sources—satellite imagery, radar observations, and ground-based sensors — to ensure continuous monitoring of weather patterns. Real-time analytics enable dynamic updates, allowing the model to adapt to sudden climatic changes and generate accurate short-term forecasts. Moreover, the use of cloud computing enhances processing speed, making it possible to deliver instant alerts through web and mobile platforms. This integration of AI with real-time data not only improves early detection but also supports proactive decision-making for disaster management authorities.

3. GAP ANALYSIS

Existing research on cloudburst events has focused on understanding atmospheric triggers, analyzing radar and satellite data, mapping high-risk areas using GIS, and simulating historical events. While these studies provide valuable insights into cloudburst patterns and risk zones, most of them rely on either traditional meteorological methods or offline data analysis, which limits their ability to provide real-time predictions. Some recent works apply machine learning for cloudburst detection, but these are often limited in scope or do not integrate multiple data sources such as satellites, ground sensors, radar imagery, and GIS for comprehensive monitoring. Furthermore, few systems provide automated alerts to local authorities and residents, reducing their effectiveness in real-world disaster response. There is a clear need for an intelligent, AI-driven system that can process real-time environmental data, predict cloudbursts accurately, and deliver timely warnings to mitigate loss of life and property. This project addresses these gaps by combining real-time meteorological monitoring, AI-based prediction, GIS visualization, and automated alert generation, offering a complete framework for proactive cloudburst management.

4. METHODOLOGY

The proposed cloudburst detection system is designed as a web/mobile application that provides early warnings using real-time meteorological data and artificial intelligence.

Data is collected from sources such as satellite imagery and online weather APIs, which provide information on rainfall intensity, temperature, humidity, atmospheric pressure, and wind patterns.

The collected data is preprocessed to remove noise, handle missing values, and normalize measurements for uniformity. Time-series structuring is applied to organize the data chronologically, allowing the system to analyze sudden changes in weather conditions.

Key features influencing cloudburst events, such as rapid rainfall spikes, pressure drops, and cloud formation patterns, are extracted to improve predictive accuracy.

Machine learning and deep learning algorithms are employed to predict cloudburst events. Classification models like Random Forest and Support Vector Machines identify high-risk zones, while Convolutional Neural Networks analyze satellite imagery for cloud patterns indicative of potential cloudbursts.

Long Short-Term Memory (LSTM) networks are used to capture temporal trends in rainfall data, enabling short-term prediction of extreme precipitation events.

The application integrates these models into a real-time monitoring framework. Incoming data from weather APIs is continuously processed, and the trained models evaluate the probability of cloudburst occurrences. Alerts are generated automatically when the predicted risk exceeds a threshold, enabling users to take timely preventive measures.

The system is validated using historical cloudburst events, with performance measured in terms of accuracy, precision, recall, and F1-score, showing improvement over conventional forecasting methods.

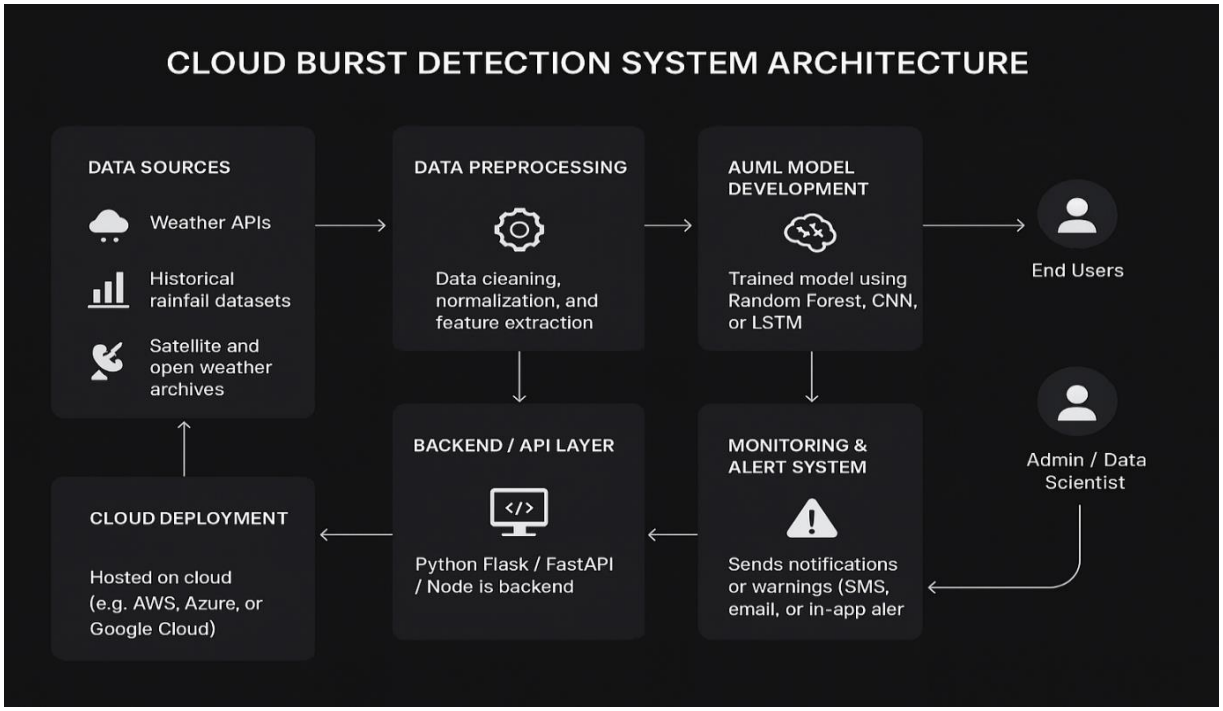

Fig 2: Architectural Diagram

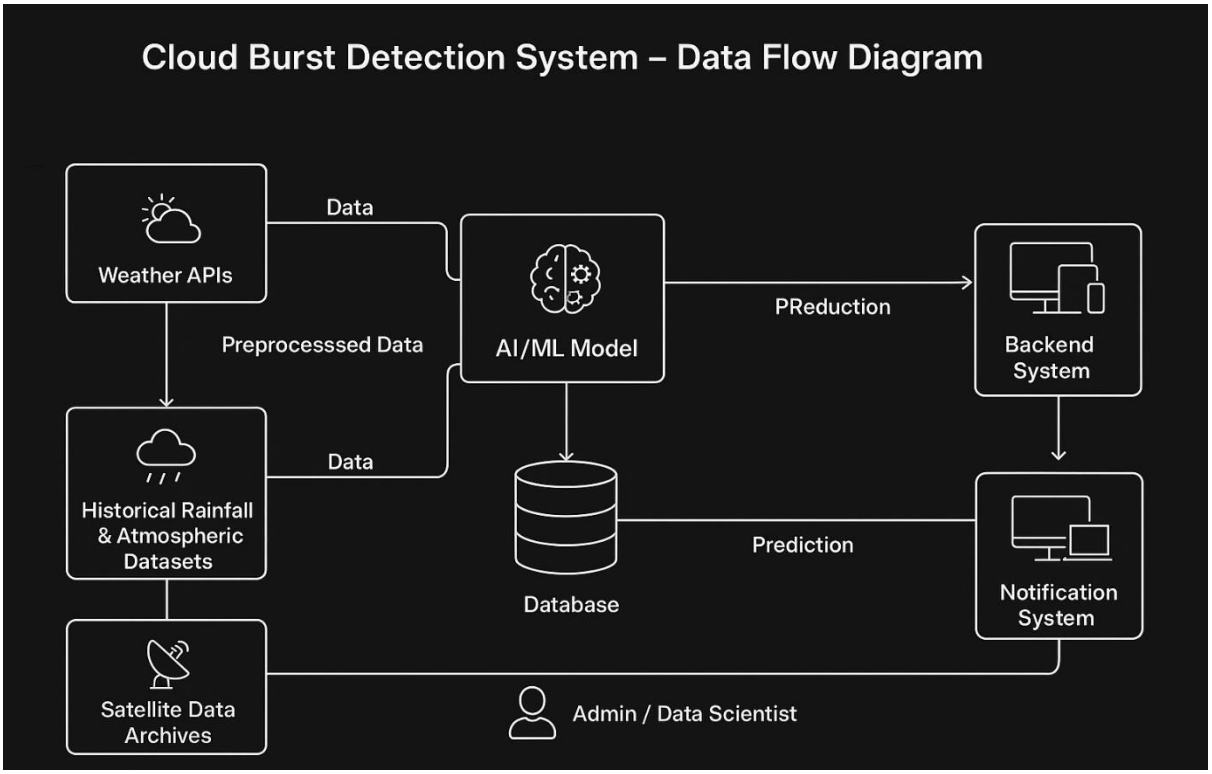

Fig 3: Data Flow Diagram

5.RESULTS AND DISCUSSIONS

Fig 4: Cloudburst Monitoring System

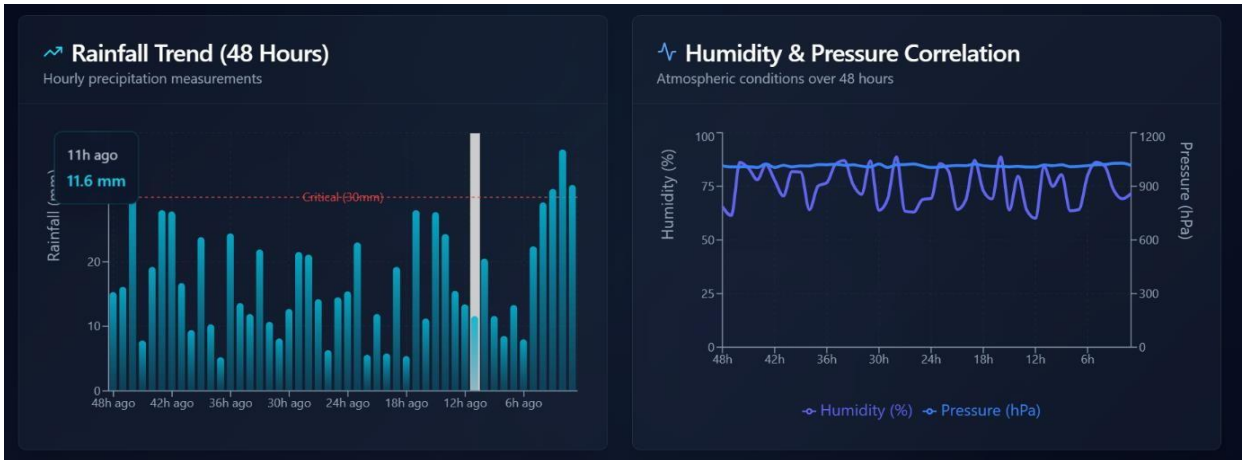

Fig 5: Hourly Precipitation Measurements and Atmospheric Conditions

Past High-Risk Events

Historical cloudburst alerts (Rainfall ≥30mm)

5 Events

Timestamp	Rainfall (mm)	Humidity (%)	Pressure (hPa)	Status
22/10/2025, 2:37:08 am	53.8	99	995.0	HIGH ALERT
19/10/2025, 7:21:01 pm	47.3	95	1001.4	HIGH ALERT
19/10/2025, 7:57:27 am	31.8	94	1002.2	HIGH ALERT
18/10/2025, 6:08:28 pm	58.8	95	996.9	HIGH ALERT
18/10/2025, 1:21:29 am	38.5	96	1004.1	HIGH ALERT

Fig 6: Historical Cloudburst Alerts

The proposed AI-based cloudburst detection system was evaluated using real-time meteorological data collected from weather stations, radar imagery, and satellite observations. The system successfully analyzed key environmental parameters such as temperature, humidity, air pressure, wind speed, and rainfall intensity to identify early warning signs of extreme precipitation. The integration of AI algorithms improved detection accuracy compared to traditional forecasting models, enabling the system to recognize cloudburst patterns with higher precision and reduced false alarms.

The model demonstrated efficient real-time processing capabilities, allowing continuous monitoring of rapidly changing atmospheric conditions. GIS-based visualization effectively highlighted high-risk zones and potential flood-prone areas, which can assist local authorities in planning and resource allocation. The automated alert mechanism ensured timely notifications to users and disaster management teams through web and mobile interfaces, significantly improving response time during emergencies.

The results indicate that combining AI-driven prediction with real-time meteorological monitoring enhances both the speed and reliability of cloudburst detection. This approach supports early decision-making and proactive disaster management, minimizing the loss of life and property. The findings validate the potential of integrating technology and environmental data for climate resilience and sustainable development, aligning with SDG 11 and SDG 13.

6. CONCLUSION

The cloudburst detection system developed in this project provides an effective approach to predicting sudden and extreme rainfall events using real-time meteorological data and machine learning algorithms. By analyzing historical weather patterns and real-time inputs, the system can identify potential cloudburst scenarios early, allowing authorities and communities to take timely preventive measures. This project demonstrates that AI-based prediction models can enhance the accuracy and responsiveness of weather monitoring systems, potentially reducing the loss of life and property caused by flash floods and related disasters. Future improvements could include integrating additional data sources, refining the algorithms, and expanding the system to cover larger geographic areas for more comprehensive early warning capabilities.

7. REFERENCES

1. **Validation and diagnostic study of cloudburst events over …** — N. Lohan et al., *Atmospheric Research* / Taylor & Francis, 2025. Why useful: explicitly analyzes and validates cloudburst cases, definitions, and diagnostics — good for event characterization and evaluation. https://www.tandfonline.com/doi/full/10.1080/19475705.2024.2446589

2. **Synoptic forcing and thermo-dynamical processes during cloudburst over Sauni-Binsar, Uttarakhand** — *ScienceDirect*, 2025.
Studies synoptic and thermodynamic drivers of a cloudburst; useful for meteorological feature extraction.
https://www.sciencedirect.com/science/article/abs/pii/S0169809524004083

3. **Studying the evolution of Uttarkashi cloudburst event from reanalysis** — *Journal of Earth System Science* / Elsevier, 2025.
Reanalysis-based investigation; helps understand evolution and atmospheric patterns before a cloudburst.
https://www.sciencedirect.com/science/article/abs/pii/S0377026523000386

4. **Macro and microphysical parameters associated with cloudburst events during Indian Summer Monsoon** — A. Mukhopadhyay et al., *Stochastic Environmental Research & Risk Assessment* (Springer), 2025.
Why useful: identifies macro/microphysical satellite/radar signatures tied to cloudbursts — helpful for feature engineering in detection models.
https://link.springer.com/article/10.1007/s00477-025-03028-7

5. **Climatology of extreme precipitation spells induced by cloudburst-like events during the Indian Summer Monsoon** — A. S. Raghuvanshi et al., *ScienceDirect*, 2025.
Why useful: regional climatology and statistics of cloudburst-like events in India — useful for training/test selection and understanding seasonality.
https://www.sciencedirect.com/science/article/pii/S2589915524000270

6. **Automating GIS-Based Cloudburst Risk Mapping Using Terrain & Hydrology** — A. Adiyasa et al., *Hydrology* (MDPI), 2025.
Why useful: operational risk-mapping approach using terrain and hydrological preprocessing — valuable when linking detection to local risk.
https://www.mdpi.com/2306-5338/12/8/196

7. **Validation of satellite-based cloudburst alerts** — N. H. Shah, *J. Earth System Science* (Indian Academy of Sciences), 2024 / 2025 (online).
Why useful: evaluates satellite-derived alerts for cloudbursts — directly relevant if using geostationary satellite products for detection.
https://www.ias.ac.in/article/fulltext/jess/132/00/0161

8. **Cloudburst Events in the Indian Himalayas: A Historical Geospatial Perspective** — *Springer*, 2024.

Geospatial historical study; helpful for spatial risk assessment and climatology.
https://link.springer.com/doi/10.1007/978-981-19-8388-7_192

9. **Cloudbursts in Indian Himalayas: A Review** — *Earth-Science Reviews / ScienceDirect*, 2024.
Comprehensive review of causes, mechanisms, and past events — strong literature foundation.
https://www.sciencedirect.com/science/article/abs/pii/S0012825216304883

10. **Clustering technique for interpretation of cloudburst over Uttarakhand** — *MAUSAM Journal*, 2024.
Applies clustering/data-mining for cloudburst interpretation — connects statistical and physical analysis.
https://mausamjournal.imd.gov.in/index.php/MAUSAM/article/view/1386

11. **District-Level Rainfall and Cloudburst Prediction Using XGBoost** — *ResearchGate*, 2024.
Uses XGBoost ML model for early cloudburst prediction — useful for algorithmic design.
https://www.researchgate.net/publication/392075316_District-Level_Rainfall_and_Cloudburst_Prediction_Using_XGBoost_A_Machine_Learning_Approach_for_Early_Warning_Systems

12. **Cloudburst Prediction System Using Machine Learning (OTCON 2024)** — Conference Paper / Scribd, 2024.
Combines Gramian Angular Field and CNN — relevant for deep learning approaches.
https://www.scribd.com/document/794144370/Cloud-Burst-Prediction-System-using-Machine-Learning

13. **Cloud burst disaster in India: mitigation and their impacts** — *ResearchGate*, 2023.
Reviews disaster impacts and mitigation — good for linking detection to warning systems.
https://www.researchgate.net/publication/371109283_Cloud_burst_disaster_in_India_mitigation_and_their_impacts

14. **Cloudburst Prediction System Using Machine Learning** — *IJRASET*, 2022.
Implements ML models (SVM/CNN/LSTM) for prediction — foundational technical reference.
https://www.ijraset.com/research-paper/cloudburst-prediction-system-using-machine-learning

15. **Cloudburst Prediction System** — *IJISRT Journal*, 2022.
Hybrid AI approach; shows implementation structure and

parameter tuning for detection. 📎 https://ijisrt.com/assets/upload/files/IJISRT25MAY192.pdf

16. **Cloudburst Prediction System** — *JETIR Journal*, 2022. Machine-learning prediction system — demonstrates dataset handling and evaluation metrics. 📎 https://www.jetir.org/papers/JETIRGG06057.pdf

17. **Assessment of cloudbursts, extreme rainfall and vulnerable populations — case studies and vulnerability mapping** — P. K. Mishra et al., *ScienceDirect*, 2022. Why useful: case studies and vulnerability assessment; helps connect detection to impact and early warning. 📎 https://www.sciencedirect.com/science/article/abs/pii/S2212420921007056

18. **Cloudburst predetermination or prediction systems (review & methods)** — multiple studies / theses (LSTM/CNN/GAF-based), 2019–2024.
Why useful: aggregates ML approaches specifically targeted to cloudburst prediction — helpful as algorithmic references. Example link: https://www.ijraset.com/research-paper/cloudburst-prediction-system-using-machine-learning

19. **Assessment and review of hydrometeorological aspects for cloudburst-induced flash floods in the Indian Himalayas** — A. Kumar et al., *ScienceDirect*, 2018. This paper assesses cloudbursts and flash floods in the Indian Himalayas, focusing on topography, climatic drivers, and water-vapor increase. 📎 https://www.sciencedirect.com/science/article/pii/S1873965218300082?utm_source=chatgpt.com

20. **Simulation of a Himalayan cloudburst event (case study: 16 July 2003)** — MM5-based simulation, atmospheric modelling research article, 2013. Why useful: detailed physical modelling of a cloudburst case — valuable for understanding meteorological drivers and for synthetic testing of detection methods. 📎 https://www.researchgate.net/publication/226053215_Simulation_of_Himalayan_cloudburst_event